Case Details	
GSS Case ID	EC 289
Client Name	GSS
Initiated Date	11-Mar-2026 03:44 PM
Completed Date	2026-03-11 21:57:31
Verification Status	Verification Completed
Report Status	Red
QA Comments	No Additional Comment

Applicant Details	
Applicant Name	Akhila E
Applicant Contact Number	9901678853
Applicant Email	No Email entered
Address Verified	72, 2nd Cross, Kanakanagar, K Channasandra, Horamavu, Bangalore, Karnataka - 560043, India

Address Information	
Residence Type	Own
Period of Stay	3y+
Nearest Landmark	Near Kanaka Nagar Circle, Opp. The Auto Body shop
Name of the Nearest Local Police Station	Ramamurthy Nagar Police station

Verification conducted by	
Verification conducted by	Applicant Themselves
Other Name (Nominated by Applicant)	Not Applicable
Relationship with Other (Nominated by Applicant)	Not Applicable
Other Contact Number	Not Applicable

Coordinates (A/E)

Label	Source	Address	Lat,Long	Logic	Code
A	Provided	72, 2nd Cross, Kanakanagar, K Channasandra, Horamavu, Bangalore, Karnataka - 560043, India	13.03114120 77.68583870	Google Maps	A
B	Selfie	K. Channasandra, K Chennasandra, Bengaluru East City Corporation, Bengaluru, Bangalore East, Bengaluru Urban, Karnataka, 560016, India	13.0384532 77.6836615	Google Maps	B
C	Door	K. Channasandra, K Chennasandra, Bengaluru East City Corporation, Bengaluru, Bangalore East, Bengaluru Urban, Karnataka, 560016, India	13.0385562 77.6835201	Google Maps	C
D	Street	K. Channasandra, K Chennasandra, Bengaluru East City Corporation, Bengaluru, Bangalore East, Bengaluru Urban, Karnataka, 560016, India	13.0385531 77.6836178	Google Maps	D
E	Average	K. Channasandra, K Chennasandra, Bengaluru East City Corporation, Bengaluru, Bangalore East, Bengaluru Urban, Karnataka, 560016, India	13.038521 77.683600	Google Maps	E

Distance Calculation

Between	Distance	Logic	Acceptable Distance	Status
A->B	0.85 km	Haversine	0.75 km	Red
A->C	0.86 km	Haversine	0.75 km	Red
A->D	0.86 km	Haversine	0.75 km	Red
A->E	0.86 km	Haversine	0.75 km	Red

Distances calculated between Provided (A) and Selfie (B), Door (C), Street (D), and Average (E).

Map Image

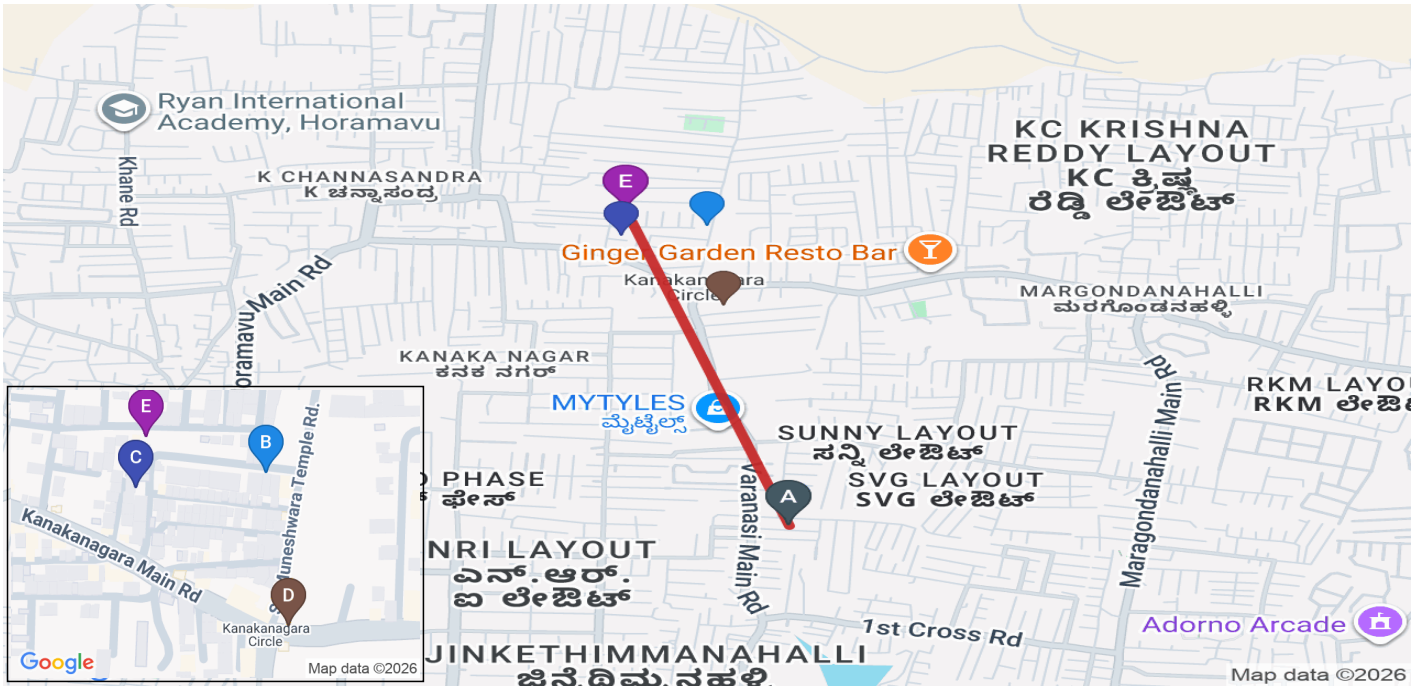

A->E Distance: 0.86 km (Provided location to Average Geo Tagged distance)

Photographic Evidence

SELFIE



Timestamp: 11-Mar-2026 09:55 PM

Lat,Long: 13.0384532, 77.6836615

Status: Accepted

AREA / STREET /LAND MARK PHOTO

Timestamp: 11-Mar-2026 09:55 PM

Lat,Long: 13.0385531, 77.6836178

Status: Accepted

CLEAR FRONT SIDE HOME PHOTO WITH APPLICANT OR FAMILY MEMBER



Timestamp: 11-Mar-2026 09:56 PM

Lat,Long: 13.0385562, 77.6835201

Status: Accepted