Case Details	
GSS Case ID	GSS 1131056
Client Name	Amazon Staff Trasnport Drivers
Initiated Date	02-Apr-2026 02:49 PM
Completed Date	2026-04-06 10:30:27
Verification Status	Completed
Report Status	Green
QA Override Status	Auto (Distance Based)
QA Override Remarks	No Additional Comment
QA Comments	No Additional Comment

Applicant Details	
Applicant Name	Sany Das
Applicant Contact Number	9346761615
Applicant Email	No Email entered
Address Verified	No. 10-10-265, Indira Gandhi Puram, Fathenagar, Balanagar, Sanathnagar I E Post Office, Medchal-Malkajgiri, Telangana - 500018, India

Address Information	
Residence Type	Rented
Period of Stay	3y+
Nearest Landmark	Not Entered
Name of the Nearest Local Police Station	Not Entered

Verification conducted by	
Verification conducted by	Applicant Themselves
Other Name (Nominated by Applicant)	Not Applicable
Relationship with Other (Nominated by Applicant)	Not Applicable
Other Contact Number	Not Applicable

Coordinates

Label	Source	Address	Lat,Long	Logic	Code
A	Provided	No. 10-10-265, Indira Gandhi Puram, Fathenagar, Balanagar, Sanathnagar I E Post Office, Medchal-Malkajgiri, Telangana - 500018, India		Google Maps	A
B	Selfie	Shastri Nagar, Fateh Nagar, Ward 118 Fateh Nagar, Hyderabad, Balanagar mandal, Medchal–Malkajgiri, Telangana, 500042, India	17.4511883 78.4526983	Google Maps	B
C	Door	Shastri Nagar, Fateh Nagar, Ward 118 Fateh Nagar, Hyderabad, Balanagar mandal, Medchal–Malkajgiri, Telangana, 500042, India	17.4511933 78.4525883	Google Maps	C
D	Street	Shastri Nagar, Fateh Nagar, Ward 118 Fateh Nagar, Hyderabad, Balanagar mandal, Medchal–Malkajgiri, Telangana, 500042, India	17.4512067 78.4527033	Google Maps	D
E	Average	Shastri Nagar, Fateh Nagar, Ward 118 Fateh Nagar, Hyderabad, Balanagar mandal, Medchal–Malkajgiri, Telangana, 500042, India	17.451196 78.452663	Google Maps	E

Distance Calculation

Between	Distance	Logic	Acceptable Distance	Status
A->B		Haversine	0.75 km	
A->C		Haversine	0.75 km	
A->D		Haversine	0.75 km	
A->E		Haversine	0.75 km	

Distances calculated between Provided (A) and Selfie (B), Door (C), Street (D), and Average (E).

Map Image

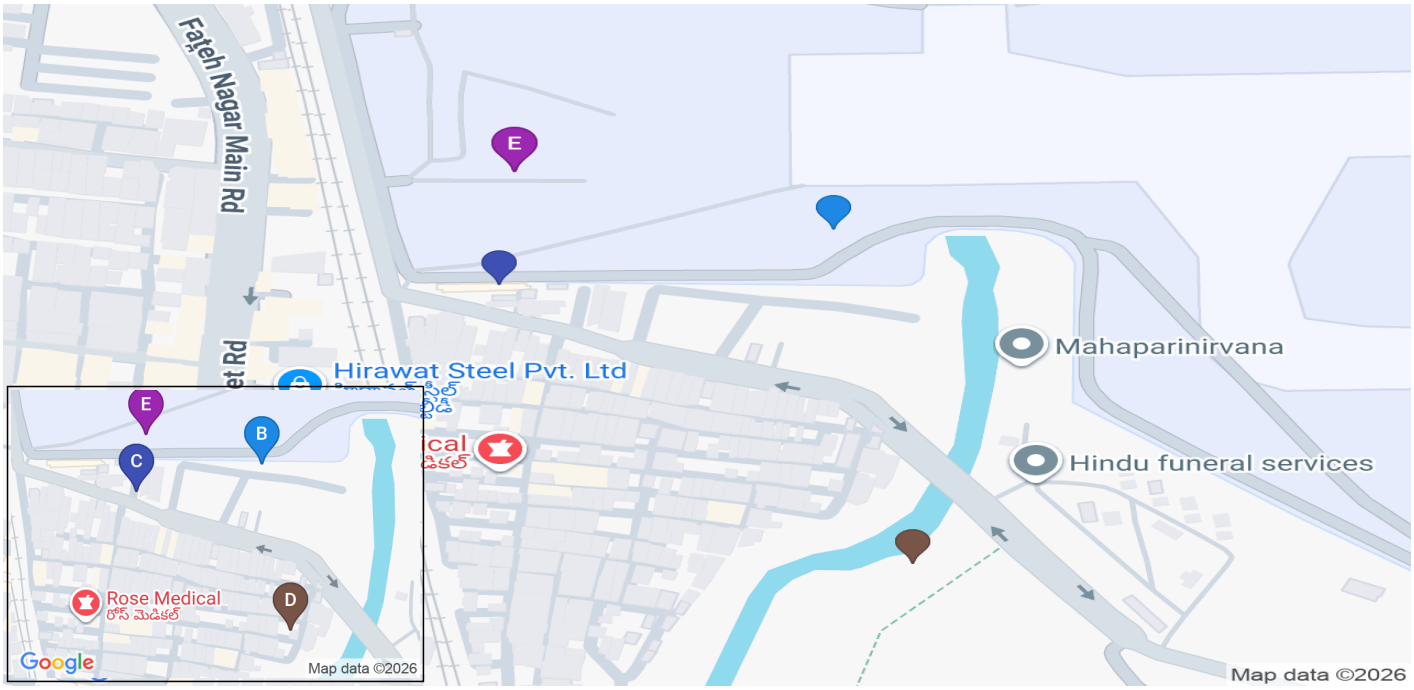

Note: Coordinates not available for: A.

Photographic Evidence

Selfie (B)



Timestamp: 05-Apr-2026 10:12 PM

Lat,Long: 17.4511883, 78.4526983

Status: Accepted

Street (D)

Timestamp: 05-Apr-2026 10:13 PM

Lat,Long: 17.4512067, 78.4527033

Status: Accepted

Door (C)



Timestamp: 05-Apr-2026 10:15 PM

Lat,Long: 17.4511933, 78.4525883

Status: Accepted